PROPERTY APPRAISAL

UNIFORM RESIDENTIAL APPRAISAL REPORT

Prepared in Compliance with USPAP Standards

File Number: 2025-NE-04821

Subject Property:	742 Evergreen Terrace, Springfield, IL 62704
Borrower:	Homer J. Simpson
Lender/Client:	First National Bank of Springfield
Purpose:	Purchase Transaction — Mortgage Lending
Effective Date:	March 10, 2025
Report Date:	March 15, 2025
Appraised Value:	$285,000

Prepared By

Robert M. Chen, MAI, SRA — Illinois License #553-002184
Chen & Associates Appraisal Group
1200 Professional Drive, Suite 300, Springfield, IL 62704
Tel: (217) 555-0142 | Email: rchen@chenassociates.com

CONFIDENTIAL — Intended solely for the use of the identified lender/client. Distribution restricted.

Table of Contents

1. Executive Summary 3
2. Subject Property Description 4
3. Site Analysis 7
4. Neighborhood Analysis 9
5. Improvement Analysis 11
6. Highest and Best Use 13
7. Sales Comparison Approach 14
8. Cost Approach 18
9. Reconciliation and Final Value Opinion 20
10. Subject Property Photographs 21
11. Comparable Sales Photographs 24
12. Location Maps 27
13. Plat Map and Floor Plans 28
14. Market Data and Statistics 29
15. Scope of Work 31
16. Assumptions and Limiting Conditions 32
17. Appraiser Certification 33
18. Appraiser Qualifications 34

1. EXECUTIVE SUMMARY

File Number:	2025-NE-04821	Report Type:	Uniform Residential
Property Address:	742 Evergreen Terrace	City/State/Zip:	Springfield, IL 62704
County:	Sangamon	Census Tract:	002.01
Borrower:	Homer J. Simpson	Owner of Record:	Homer J. Simpson
Legal Description:	Lot 13, Block 7, Evergreen Terrace Sub.	Parcel #:	15-29-300-014
Property Type:	Single Family Residence	Design Style:	Ranch
Year Built:	1984	Effective Age:	25 years
GLA (Above Grade):	2,450 sq ft	Site Area:	7,200 sq ft
Bedrooms:	4	Bathrooms:	2.0
Basement:	Full — 1,080 sq ft (65% finished)	Garage:	2-car attached
Zoning:	R-2 Single Family Residential	Flood Zone:	Zone X (not in SFHA)
Highest & Best Use:	Residential (as improved)	Property Rights:	Fee Simple
Contract Price:	$285,000	Contract Date:	01/15/2025
Lender/Client:	First National Bank of Springfield	Loan Type:	Conventional

Value Conclusions

Sales Comparison Approach:	$285,000	
Cost Approach:	$306,844	
Income Approach:	Not Developed	
APPRAISED VALUE:	**$285,000**	as of March 10, 2025

Extraordinary Assumptions and Hypothetical Conditions

None. This appraisal is made on an "as is" basis following a complete interior and exterior inspection of the subject property performed on March 10, 2025.

2. SUBJECT PROPERTY DESCRIPTION

Property Identification

The subject property is a single-family residential dwelling located at 742 Evergreen Terrace in the city of Springfield, Sangamon County, Illinois. The property is situated on the south side of Evergreen Terrace between Oak Avenue and Maple Drive, within the Evergreen Terrace Subdivision, Unit 2.

The legal description is Lot 13, Block 7 of the Evergreen Terrace Subdivision, Unit 2, as recorded in the Sangamon County Recorder of Deeds. The Assessor's Parcel Number is 15-29-300-014. Real estate taxes for the 2024 tax year were $4,285.

Ownership and Sales History

The property is currently owned by Homer J. Simpson, who purchased it in June 2008 for $195,000 via conventional financing. No additional transfers have occurred within the past three years. The property is not currently listed for sale, and there are no pending contracts or offers known to the appraiser other than the subject purchase contract.

The current contract price is $285,000, dated January 15, 2025, representing an arm's-length transaction between unrelated parties. The seller is Nedward Flanders, who owned the property from 2001 to 2008 before selling to the current owner. No unusual sale conditions, concessions, or financial assistance were identified.

General Property Characteristics

The subject is a detached, single-story ranch-style residence constructed in 1984. The home contains approximately 2,450 square feet of gross living area above grade, with 8 rooms including 4 bedrooms and 2.0 bathrooms. The property features a full basement of approximately 1,080 square feet, of which 65% is finished with a recreation room, and a 2-car attached garage.

The dwelling sits on a rectangular lot measuring 60 feet by 120 feet (7,200 square feet). The lot is at grade with the surrounding terrain and features typical residential landscaping including mature deciduous and evergreen trees, a concrete driveway, concrete sidewalk, and a 6-foot wood privacy fence enclosing the rear yard.

Exterior Description

Foundation: Poured concrete foundation walls in good condition. No visible cracking, settlement, or water infiltration noted. Full basement with exterior access via bulkhead door.

Exterior Walls: Vinyl siding in good condition throughout. No significant fading, warping, or damage observed. Trim and fascia boards are painted wood in good condition.

Roof: Asphalt architectural shingles (CertainTeed Landmark series), replaced in 2021. Estimated remaining useful life of 25+ years. Aluminum gutters and downspouts in good condition. No evidence of leaks or damage.

Windows: Double-hung vinyl replacement windows throughout. Insulated glass in good condition. Storm sash not required. Screens present on all operable windows.

Garage: 2-car attached garage with automatic door opener. Concrete floor in good condition. Interior access to main dwelling. Dimensions approximately 22 x 24 feet.

Interior Description

The interior of the dwelling has been well-maintained and features several recent updates. The general flow and layout are functional and typical for ranch-style homes in the market area.

Room	Dimensions	Description / Condition
Living Room	18 x 14	Hardwood floors, crown molding, large picture window facing front
		yard
Dining Room	12 x 11	Hardwood floors, chair rail, wainscoting, chandelier
Kitchen	14 x 12	Renovated 2019. Granite countertops, stainless steel appliances,
		soft-close maple cabinetry, ceramic tile backsplash, recessed lighting, breakfast bar
Family Room	16 x 14	Hardwood floors, wood-burning fireplace with stone surround, buil
		t-in bookshelves, sliding door to rear deck
Master Bedroom	15 x 13	Carpet, walk-in closet, en-suite bath with ceramic tile shower, d
		ual vanity (updated 2018)
Bedroom 2	12 x 11	Carpet, double closet, ceiling fan
Bedroom 3	12 x 11	Carpet, double closet, ceiling fan
Hall Bathroom	8 x 6	Ceramic tile floor, tub/shower combo, updated vanity and fixtures
		(2018)

Basement Details

The full basement has a total area of approximately 1,080 square feet, of which approximately 65% (700 sq ft) is finished. The finished area includes a recreation room measuring 20 x 16 feet with carpet flooring, drywall walls, and recessed lighting. The remainder of the basement consists of a utility/laundry area and storage space with a concrete floor.

Ceiling height in the basement is 7.5 feet. Egress windows are present in the recreation room, meeting current safety requirements. A sump pump is installed and operational. No evidence of moisture, dampness, or water infiltration was observed during the inspection. An outside entry/exit is provided via a bulkhead door on the east side of the dwelling.

Mechanical Systems

Heating: Forced warm air (FWA) system with Lennox high-efficiency gas furnace (96% AFUE), installed 2022. Ductwork in good condition throughout. Thermostat is programmable digital unit.

Cooling: Central air conditioning with Lennox 16 SEER condensing unit, installed 2022 (same replacement cycle as furnace). System in excellent condition with estimated 15+ years remaining useful life.

Electrical: 200 amp service, upgraded in 2017 (Siemens panel). Circuit breakers throughout. Wiring appears to be a combination of original copper and updated Romex. GFI outlets present in kitchen, bathrooms, and exterior. System is adequate for the dwelling.

Plumbing: Copper supply lines and PVC drain/waste/vent piping. 50-gallon gas water heater (2020). All fixtures functional. No evidence of leaks or inadequate water pressure.

Recent Improvements and Renovations

Year	Improvement	Description	Approx. Cost
2022	HVAC System	Complete replacement of furnace and A/C unit	$12,500
2021	Roof	Full tear-off and replacement with architectural shingles	$14,200
2019	Kitchen Remodel	Countertops, appliances, cabinetry, backsplash, lighting	$28,500
2018	Bathroom Updates	Both bathrooms: vanities, tile, fixtures, toilets	$11,800
2017	Electrical Panel	Upgrade from 100A to 200A service	$3,200
2016	Deck	New 12x16 composite deck with aluminum railing	$8,500

Total invested in improvements over the past 9 years: approximately $78,700. These improvements have been well-executed and contribute positively to the overall condition, functional utility, and marketability of the property. The effective age of the dwelling is estimated at 25 years, reflecting the impact of these updates on an otherwise 41-year-old structure.

3. SITE ANALYSIS

Site Characteristics

Dimensions:	60 ft x 120 ft (Rectangular)	Area:	7,200 sq ft (0.165 acres)
Topography:	Level, at street grade	Drainage:	Adequate; no pooling observed
Street:	Evergreen Terrace (public, paved)	Curb/Gutter:	Concrete, good condition
Sidewalk:	Concrete, both sides of street	Street Lights:	Municipal, adequate
Alley:	None	Driveway:	Concrete, 2-car width, good cond.

Utilities

Electricity:	Public — Ameren Illinois	Water:	Public — City of Springfield
Natural Gas:	Public — Ameren Illinois	Sanitary Sewer:	Public — City of Springfield
Storm Sewer:	Public — City of Springfield	Telephone/Cable:	Available — AT&T/Comcast

Zoning and Land Use

Zoning Classification:	R-2 — Single Family Residential
Zoning Compliance:	Legal conforming use
Minimum Lot Size:	6,000 sq ft (subject exceeds)
Setbacks (Front/Side/Rear):	25 ft / 8 ft / 25 ft — subject complies on all sides
Highest and Best Use (as vacant):	Single family residential development
Highest and Best Use (as improved):	Continued residential use (current use)

Flood Zone Determination

FEMA Flood Zone:	Zone X — Area of minimal flood hazard
FEMA Map Panel:	#17167C0215E
FEMA Map Date:	September 28, 2017
Flood Insurance Required:	No

The subject property is located in FEMA Flood Zone X, which is designated as an area of minimal flood hazard, outside the 500-year floodplain. No flood insurance is required for conventional mortgage lending purposes. The property does not appear to have experienced any flood damage based on visual inspection and owner interview.

Site Improvements

The site improvements include the following features that contribute to the overall utility and value of the property:

- Concrete driveway (2-car width, approximately 10 x 40 ft) in good condition with minor surface cracking typical for age
- Concrete sidewalk from driveway to front entry and connecting to public sidewalk — good condition
- 12 x 16 ft composite deck (Trex brand, installed 2016) with aluminum railing in the rear yard — excellent condition
- 10 x 12 ft concrete patio adjacent to deck — good condition
- 6-foot wood privacy fence enclosing rear yard — fair to good condition (some boards showing weathering)
- Mature landscaping including 3 deciduous shade trees (oak, maple), 4 evergreen trees, ornamental plantings
- Automatic sprinkler system (front and side yards) — operational
- Exterior lighting: coach lights at front entry and garage, flood lights at rear corners
- Mailbox, address numbers, and standard residential amenities

Easements and Encroachments

A standard 10-foot utility easement exists along the rear property line, as is typical for the subdivision. No encroachments from or onto adjacent properties were observed. A review of the recorded plat confirms no additional easements that would adversely affect the use or value of the property.

Environmental Observations

No apparent environmental hazards, contamination, or adverse conditions were observed during the site inspection. The property is not located near any known Superfund sites, landfills, or industrial facilities. No underground storage tanks were observed or reported. The surrounding area is entirely residential with no apparent sources of environmental contamination.

Note: This appraisal is not an environmental assessment. The appraiser is not qualified to detect the presence of hazardous substances. If the client requires environmental assurance, a Phase I Environmental Site Assessment by a qualified environmental professional is recommended.

4. NEIGHBORHOOD ANALYSIS

Neighborhood Boundaries

The subject neighborhood is defined by the following boundaries: Springfield Boulevard to the north, Route 54 (Clear Lake Avenue) to the south, Shelbyville Highway (IL Route 97) to the east, and the Capital City corporate limits to the west. This area encompasses approximately 2.4 square miles of primarily residential land use.

Neighborhood Characteristics

Location:	Urban	Built-Up:	Over 75%
Growth Rate:	Stable	Property Values:	Stable
Demand/Supply:	In Balance	Marketing Time:	3–6 months
Predominant Occupancy:	Owner (est. 85%)	Vacancy Rate:	<5%
Predominant Age Range:	30–55 years	Price Range:	$210,000–$375,000
Predominant Price:	$270,000–$300,000	Lot Size Range:	6,000–10,000 sq ft

Land Use Distribution

Land Use	Approx. %	Notes
One-Unit Residential	78%	Predominantly ranch, split-level, and two-story single-family
2-4 Unit Residential	5%	Duplexes along major corridors
Multi-Family	2%	Small apartment complexes at neighborhood edges
Commercial	10%	Strip retail, grocery, gas stations along Route 54
Other (Parks, Schools)	5%	Evergreen Park, Springfield Elementary

Proximity to Amenities and Services

Amenity	Distance	Notes
Springfield Elementary School	0.3 miles	Public K-5, rating 7/10
Springfield Middle School	0.8 miles	Public 6-8, rating 6/10
Springfield High School	1.1 miles	Public 9-12, rating 7/10
Evergreen Park & Rec Center	0.2 miles	Playground, ball fields, pool
Springfield Mall	0.8 miles	Major retail center
Grocery (Kroger/Aldi)	0.5 miles	Full-service grocery stores
Springfield Regional Medical	2.4 miles	Full-service hospital, ER
Interstate 55 Access	1.5 miles	Major highway corridor
Downtown Springfield	3.2 miles	State Capitol, employment center

Market Conditions — 12-Month Trend Analysis

The following data summarizes the residential market activity within the subject neighborhood for the period March 2024 through March 2025, as compiled from the Central Illinois Multiple Listing Service (MLS) and Sangamon County Recorder of Deeds records:

Metric	Current Period	Prior Period	Trend
Closed Sales	47	42	↑ +11.9%
Median Sale Price	$278,500	$269,800	↑ +3.2%
Average Sale Price	$281,200	$272,100	↑ +3.3%
Average Days on Market	45	52	↓ Improving
Active Listings	8	11	↓ Tightening
Pending Sales	4	3	Stable
Months of Supply	2.0	3.1	↓ Seller's Market
List-to-Sale Price Ratio	98.2%	97.4%	↑ Strengthening
Foreclosure/REO Activity	<2%	<3%	↓ Declining

Market Analysis and Conclusions

The subject neighborhood has demonstrated stable to slightly improving market conditions over the past 12 months. Key indicators — increasing median prices, declining days on market, and tightening inventory — point to a healthy residential market with balanced demand. The months of supply figure of 2.0 months technically indicates a seller's market, although the pace of appreciation (3.2%) remains moderate and sustainable.

Employment in the Springfield metro area remains anchored by state government (Capitol complex), healthcare (Memorial Medical Center, HSHS St. John's), and education (University of Illinois Springfield, Lincoln Land Community College). These employers provide a stable economic base that supports consistent housing demand.

No significant new residential construction is planned within the subject neighborhood. The nearest new development (Prairie Crossing subdivision) is located approximately 3 miles northeast and targets a higher price point ($350,000–$500,000), which is unlikely to compete directly with existing homes in the subject's price range.

Adverse conditions: No significant adverse conditions were identified that would negatively impact property values in the neighborhood. Traffic noise from Route 54 is minimal at the subject's location due to the 0.4-mile distance and mature tree buffers. No pending zoning changes, environmental concerns, or infrastructure projects that would materially affect the neighborhood were identified.

5. IMPROVEMENT ANALYSIS

General Improvement Data

Type:	Detached Single-Family Residence	Design:	Ranch (Single-Story)
Construction Quality:	Good (Q4)	Condition:	Good (C3)
Year Built:	1984 (41 years)	Effective Age:	25 years
Remaining Economic Life:	45 years	Total Economic Life:	70 years
Above Grade GLA:	2,450 sq ft	Below Grade Area:	1,080 sq ft
Room Count:	8 total	Bed/Bath:	4 bedrooms / 2.0 baths
Basement Finish:	65% finished (rec room)	Garage:	2-car attached (528 sf)

Condition Assessment

The overall condition of the subject improvements is rated as Good (C3) per the UAD condition rating scale. The property has been well-maintained by the current owner, with several significant updates completed within the past nine years (totaling approximately $78,700). These improvements — particularly the kitchen remodel, HVAC replacement, and roof replacement — have extended the functional and economic life of the dwelling.

The effective age of 25 years (versus the actual age of 41 years) reflects the positive impact of these renovations. No significant deferred maintenance was observed. Minor items noted include: some weathering on the rear privacy fence (estimated 3-5 years remaining life), minor surface cracking on the driveway (cosmetic, not structural), and carpet wear in high-traffic areas of bedrooms 2 and 3.

Functional Utility Analysis

The dwelling exhibits functional utility that is typical and competitive within the market area. The ranch-style floor plan provides single-level living, which is desirable in the Springfield market across a wide demographic. The 4-bedroom, 2-bath configuration with separate living and family rooms meets current market expectations for homes in this price range.

No significant functional obsolescence was identified. The kitchen and bathroom renovations have brought these areas to current market standards. The room sizes are adequate and the overall flow of the floor plan is functional. The 2-car attached garage meets market expectations. The partially finished basement provides additional living space that adds to the home's utility.

Depreciation Analysis

Physical depreciation has been partially offset by the owner's investment in renovations. The remaining physical depreciation is primarily related to components that have not been updated: original windows (functional but showing age), some flooring, and the driveway surface. An itemized depreciation analysis follows:

Component	RCN ($)	Life (yrs)	Eff Age	Depr %	Depr ($)
Foundation	38,500	70	25	36%	13,860
Framing/Structure	52,000	70	25	36%	18,720
Exterior (Siding)	24,000	40	10	25%	6,000
Roof	14,200	30	4	13%	1,846
Windows/Doors	18,000	35	25	71%	12,780
HVAC	12,500	20	3	15%	1,875
Electrical	8,500	40	8	20%	1,700
Plumbing	11,000	40	15	38%	4,180
Kitchen	28,500	25	6	24%	6,840
Bathrooms	11,800	25	7	28%	3,304
Interior Finish	32,000	30	15	50%	16,000
Basement Finish	15,000	25	15	60%	9,000
Garage	18,000	50	25	50%	9,000
Site Improvements	22,000	20	10	50%	11,000
TOTAL	**$306,000**				**$116,105**

Total physical depreciation: $116,105 (37.9% of replacement cost new). No functional obsolescence identified. No external obsolescence identified based on market analysis. The depreciated cost of improvements is $189,895. Combined with the estimated site value of $45,000, the cost approach indicates a value of approximately $234,895. However, due to the entrepreneurial incentive and market conditions, the cost approach conclusion is adjusted upward to $306,844 as detailed in Section 8.

6. HIGHEST AND BEST USE ANALYSIS

As Vacant

The highest and best use of the site as if vacant would be single-family residential development. This conclusion is based on the following four-part test:

- Legally permissible: R-2 zoning permits single-family residential use. The lot size (7,200 sf) exceeds the minimum requirement (6,000 sf).
- Physically possible: The rectangular lot with level topography, public utilities, and adequate street access can support residential construction.
- Financially feasible: Residential development is financially feasible given current land values ($40,000-$50,000 for comparable lots) and construction costs in the area.
- Maximally productive: Single-family residential development represents the most productive use, consistent with surrounding properties and market demand.

As Improved

The highest and best use of the property as improved is continued use as a single-family residence. The existing improvements contribute value well in excess of the underlying land value, and the property is consistent with the predominant use in the neighborhood. No alternative use of the improved property would yield a higher return.

The improvements are legally conforming, physically adequate for continued use, and represent a typical improvement for the neighborhood. The property's design, quality, and condition are competitive within the market area. Demolition of the existing improvements would not be economically warranted, as the improvement contribution significantly exceeds the cost of demolition.

7. SALES COMPARISON APPROACH

Methodology

The Sales Comparison Approach derives a value indication by comparing the subject property to similar properties that have recently sold in the same or competing market areas. Adjustments are applied to the comparable sales to account for differences between the comparables and the subject. The adjusted sale prices of the comparables provide an indicated value range for the subject property.

Three comparable sales were selected from the Central Illinois MLS and verified through public records. All comparables are located within 0.65 miles of the subject in the same neighborhood and market area. Sale dates range from November 2024 to February 2025, providing current market data.

Comparable Sales Summary

	Address	Sale Price	$/SF	GLA	Br/Ba	Sale Date
Subject	742 Evergreen Terr	$285,000*	$116.33	2,450	4/2.0	Contract
Comp #1	118 Oak Avenue	$268,500	$122.05	2,200	3/1.5	02/2025
Comp #2	2204 Maple Drive	$292,000	$121.67	2,400	4/2.0	01/2025
Comp #3	509 Birch Lane	$278,000	$132.38	2,100	3/1.5	11/2024

* Contract price

Adjustment Grid

	SUBJECT	COMP #1	COMP #2	COMP #3
Sale Price	**$285,000**	**$268,500**	**$292,000**	**$278,000**
Financing	Conv/0	Conv/0	FHA/0	Conv/0
Concessions	None	None	None	None
Date of Sale	Contract	02/2025 +$2,685	01/2025 +$2,920	11/2024 +$4,170
Location	N;Res;B	N;Res;B	N;Res;B	N;Res;B
Fee Simple	Fee Simple	Fee Simple	Fee Simple	Fee Simple
Site Size	7,200 sf	6,600 +$1,500	7,800 -$1,000	6,900 +$750
View	Residential	Residential	Residential	Residential
Design	Ranch	Ranch	Ranch	Split-Lvl -$2,000
Quality	Good	Good	Good	Good
Age	41/Eff 25	39	37	45 -$2,500
Condition	Good (C3)	Good	Good	Avg +$5,000
Room Count	8/4/2.0	7/3/1.5 +$3,000	9/4/2.0	7/3/1.5 +$3,000
GLA	2,450 sf	2,200 +$12,500	2,400 +$2,500	2,100 +$17,500
Basement	Full/1,080/65%	Full/900 +$4,500	Full/1,100	Partial +$6,000
Heating/Cooling	FWA/CAC	FWA/CAC	FWA/CAC	FWA/CAC
Garage	2-car att	1-car +$5,000	2-car att	2-car att
Porch/Patio/Deck	Dk,Pt,Pch	Patio +$2,500	Dk,Pt,Pch -$1,500	Patio +$2,500
Net Adj		**+$31,685**	**+$2,920**	**+$34,420**
Net Adj %		11.8%	1.0%	12.4%
Gross Adj %		14.5%	4.5%	15.6%
Adj Sale Price		**$300,185**	**$294,920**	**$312,420**

Comparable Sale #1 — 118 Oak Avenue, Springfield, IL 62704

This comparable is a single-story ranch-style residence constructed in 1986, located 0.31 miles northwest of the subject within the Evergreen Terrace neighborhood. The property sold on February 12, 2025 for $268,500 via conventional financing with no seller concessions. The sale was an arm's-length transaction verified through MLS records and public deed records.

Key physical characteristics: 2,200 sq ft GLA, 7 rooms (3 bedrooms, 1.5 baths), full basement (900 sf, 55% finished), 1-car attached garage, vinyl siding, asphalt shingle roof (2019), patio. Overall condition rated good, comparable to the subject. The lot is 6,600 sf, slightly smaller than the subject.

Adjustments: Time (+1.0% or $2,685 for one-month market appreciation), site (+$1,500 for 600 sf less lot area at $2.50/sf), room count (+$3,000 for fewer bedrooms/baths), GLA (+$12,500 for 250 sf less at $50/sf), basement (+$4,500 for smaller/less finished basement), garage (+$5,000 for single vs. two-car), and patio/deck (+$2,500 for inferior outdoor living area). Total net adjustment: +$31,685 (11.8%). Gross adjustment: 14.5%. Adjusted sale price: $300,185.

Comparable Sale #2 — 2204 Maple Drive, Springfield, IL 62704

This comparable is a single-story ranch-style residence constructed in 1988, located 0.45 miles southeast of the subject within the same neighborhood. The property sold on January 28, 2025 for $292,000 via FHA financing with no seller concessions. Arm's-length transaction confirmed via MLS and public records.

Key physical characteristics: 2,400 sq ft GLA, 9 rooms (4 bedrooms, 2.0 baths), full basement (1,100 sf, 60% finished), 2-car attached garage, vinyl siding, asphalt roof (2020), deck, patio, and covered porch. Overall condition good. Lot is 7,800 sf.

This is the most similar comparable to the subject, requiring the fewest and smallest adjustments. Time adjustment (+$2,920 for 1.5-month market appreciation). Site (-$1,000 for 600 sf larger lot). GLA (+$2,500 for 50 sf less). Porch/patio/deck (-$1,500 for superior outdoor improvements). Net adjustment: +$2,920 (1.0%). Gross adjustment: 4.5%. Adjusted sale price: $294,920.

This comparable received the greatest weight in the final reconciliation due to the minimal adjustments required and the high degree of similarity to the subject in terms of size, room count, quality, condition, and amenities.

Comparable Sale #3 — 509 Birch Lane, Springfield, IL 62704

This comparable is a split-level residence constructed in 1980, located 0.62 miles northeast of the subject. Sold November 15, 2024 for $278,000 via conventional financing. Arm's-length transaction verified via MLS and public records.

Key characteristics: 2,100 sq ft GLA, 7 rooms (3 bedrooms, 1.5 baths), partial basement (600 sf, unfinished), 2-car attached garage, vinyl siding, asphalt roof (2018), patio. Condition rated average — some deferred maintenance including older kitchen and baths not recently updated. Lot is 6,900 sf.

This comparable required the most significant adjustments due to differences in design (split-level vs. ranch), age/condition, GLA, and basement configuration. Net adjustment: +$34,420 (12.4%). Gross adjustment: 15.6%. Adjusted sale price: $312,420. This sale provides supporting evidence but was given least weight due to the higher adjustment levels.

Adjustment Rationale

The following adjustment rates and methodologies were applied consistently across all comparable sales:

Time/Market Conditions

1.0% per month (annualized 3.2% based on paired sales analysis and market trend data for the subject neighborhood). Applied from date of comparable sale to effective date of appraisal.

Site Size

$2.50 per square foot differential, derived from paired sales analysis of similar-quality lots in the neighborhood.

Design/Style

-$2,000 for split-level vs. ranch design. Ranch-style homes command a slight premium in this market due to single-level living preference.

Age/Condition

$500 per year of effective age differential for age; $5,000 for condition rating differential (Average to Good).

Room Count

$3,000 per bedroom differential; $2,000 per full bathroom differential, supported by paired sales analysis.

Gross Living Area

$50 per square foot, derived from regression analysis of sales data (n=47) in the subject neighborhood over the past 12 months ($R^2 = 0.78$).

Basement

$2,000 per 100 sf of finished basement differential; $3,000 for partial-to-full basement type differential.

Garage

$5,000 per car space differential, consistent with market extraction from similar paired sales.

Porch/Patio/Deck

$1,500–$2,500 based on type and quality differential, supported by cost approach (depreciated cost new of improvements).

Sales Comparison Approach — Reconciliation

The adjusted sale prices of the three comparable sales provide the following indicated value range for the subject property:

Comparable #1 (118 Oak Ave):	$300,185 (Net: 11.8%, Gross: 14.5%)
Comparable #2 (2204 Maple Dr):	$294,920 (Net: 1.0%, Gross: 4.5%)
Comparable #3 (509 Birch Ln):	$312,420 (Net: 12.4%, Gross: 15.6%)
Range:	$294,920 — $312,420
Mean:	$302,508
Median:	$300,185

Greatest weight is assigned to Comparable #2 (2204 Maple Drive), which required the lowest net adjustment (1.0%) and lowest gross adjustment (4.5%) of all comparables. This sale is the most directly comparable to the subject in terms of physical characteristics, location, and market appeal. The 4-bedroom, 2-bath ranch configuration with 2-car garage mirrors the subject almost exactly.

Comparable #1 provides good secondary support but required more substantial adjustments, primarily for the smaller GLA and single-car garage. Comparable #3 provides additional market evidence but is given the least weight due to its split-level design, average condition, and the resulting higher adjustment levels.

The contract price of $285,000 falls slightly below the adjusted value range of the comparables, which is considered reasonable given the buyer's negotiating position and the property's effective age. The contract price is well-supported by market data and does not appear to be influenced by non-market factors.

INDICATED VALUE BY SALES COMPARISON APPROACH: $285,000

8. COST APPROACH

Methodology

The Cost Approach estimates value by calculating the current cost to construct a replica or replacement of the existing improvements, deducting accrued depreciation, and adding the estimated site value. This approach is most useful as a secondary check on the Sales Comparison Approach for existing single-family properties.

Site Valuation

The site value is estimated at $45,000, based on analysis of recent vacant lot sales in the subject neighborhood and surrounding area:

Location	Size (sf)	Sale Price	$/SF	Sale Date
Lot 8, Elm Street	7,500	$47,500	$6.33	09/2024
Lot 22, Pine Road	6,800	$42,000	$6.18	06/2024
Lot 3, Cedar Court	7,000	$44,100	$6.30	11/2024

The land sales indicate a range of $6.18–$6.33 per square foot. Applying $6.25/sf to the subject's 7,200 sf lot yields an indicated site value of $45,000 (rounded).

Replacement Cost New (RCN)

Main Dwelling (2,450 sf × $142.50/sf):	$349,125
Basement Finish (700 sf × $45.00/sf):	$31,500
Garage (528 sf × $55.00/sf):	$29,040
Site Improvements (deck, patio, fence, landscaping):	$22,000
Total Replacement Cost New:	$431,665

Accrued Depreciation

Physical Depreciation (itemized — see Section 11):	$116,105 (26.9%)
Functional Obsolescence:	$0 (none identified)
External Obsolescence:	$0 (none identified)
Total Accrued Depreciation:	$116,105

Cost Approach Summary

Replacement Cost New:	$431,665
Less: Accrued Depreciation:	-$116,105
Depreciated Cost of Improvements:	$315,560
Plus: Site Value:	+$45,000
Less: Entrepreneurial Adjustment:	-$53,716
INDICATED VALUE BY COST APPROACH:	$306,844

Cost Approach — Additional Discussion

The cost approach indication of $306,844 is higher than the sales comparison indication of $285,000. This differential is not uncommon for properties with an effective age of 25 years, as the cost approach can overstate value due to the difficulty in accurately quantifying all forms of depreciation, particularly economic and functional obsolescence that may not be readily apparent.

The cost approach is considered a reliable secondary indication of value and is useful in confirming that the improvements contribute significantly to the overall property value. The difference between the cost approach and sales comparison approach ($21,844 or 7.7%) is within an acceptable range and reflects the market's valuation of the property as a whole, including the age-related discount that buyers apply to existing homes versus new construction.

Income Approach

The Income Approach has not been developed for this appraisal. The subject property is an owner-occupied single-family residence in a neighborhood where rental properties are not prevalent (approximately 15% rental occupancy). There is insufficient rental data for comparable single-family homes to develop a reliable gross rent multiplier (GRM) or income capitalization analysis.

The omission of the Income Approach does not affect the reliability of this appraisal, as the Sales Comparison Approach is the most applicable and reliable method for valuing owner-occupied single-family residences in this market area.

9. RECONCILIATION AND FINAL VALUE OPINION

Value Indications

Sales Comparison Approach:	$285,000
Cost Approach:	$306,844
Income Approach:	Not Developed

Reconciliation Analysis

The Sales Comparison Approach is given the greatest weight in this reconciliation, as it most directly reflects the actions of buyers and sellers in the subject's market area. This approach is based on recent, verified sales of similar properties within the same neighborhood, and the adjustments applied are supported by market data and paired sales analysis.

The Cost Approach provides secondary support and confirms that the existing improvements contribute significant value. However, the cost approach is inherently less reliable for older properties due to the difficulty in accurately measuring all forms of depreciation. The higher indication from the cost approach ($306,844 vs. $285,000) is consistent with the market's typical discount for existing homes versus replacement cost.

The Income Approach was not developed, as it is not applicable to owner-occupied single-family residences in this market area.

The contract price of $285,000 is consistent with the sales comparison analysis and represents a market-supported transaction. No unusual conditions, concessions, or non-market influences were identified in the purchase contract.

FINAL OPINION OF MARKET VALUE: $285,000

Effective Date: March 10, 2025 | Inspection Date: March 10, 2025 | Report Date: March 15, 2025

Exposure Time

Based on current market conditions and the property's characteristics, a reasonable exposure time for the subject property at the appraised value is estimated at 30-60 days. This is consistent with the average days on market of 45 days observed in the subject neighborhood over the past 12 months.

Marketing Time

The estimated marketing time for the subject property, assuming proper pricing, marketing, and market conditions consistent with those observed as of the effective date of this appraisal, is 30-60 days. This estimate is based on the current absorption rate and months of supply in the subject neighborhood (2.0 months).

10. SUBJECT PROPERTY PHOTOGRAPHS

Front Exterior — 742 Evergreen Terrace, Springfield, IL 62704

Rear Exterior — View from backyard showing deck and patio

Street Scene — Looking east on Evergreen Terrace from subject

Kitchen — Renovated 2019, granite counters, stainless appliances

Family Room — Hardwood floors, fireplace with stone surround

Master Bedroom — En-suite bath with updated fixtures

Updated Hall Bathroom — Ceramic tile, new vanity (2018)

Rear Yard — Privacy fence, mature landscaping, shed

Aerial/Neighborhood View — Typical residential streetscape

11. COMPARABLE SALES PHOTOGRAPHS

Comparable Sale #1 — 118 Oak Avenue

Front Exterior — 118 Oak Avenue, Springfield, IL 62704

Street View — Looking north on Oak Avenue from comparable

Neighborhood Context — Proximity to subject property

Comparable Sale #2 — 2204 Maple Drive

Front Exterior — 2204 Maple Drive, Springfield, IL 62704

Side/Rear View — Showing deck and rear yard

Street View — Maple Drive looking west toward subject area

Comparable Sale #3 — 509 Birch Lane

Front Exterior — 509 Birch Lane, Springfield, IL 62704

Side View — Split-level design visible from street

Rear View — Patio and backyard area

12. LOCATION MAP

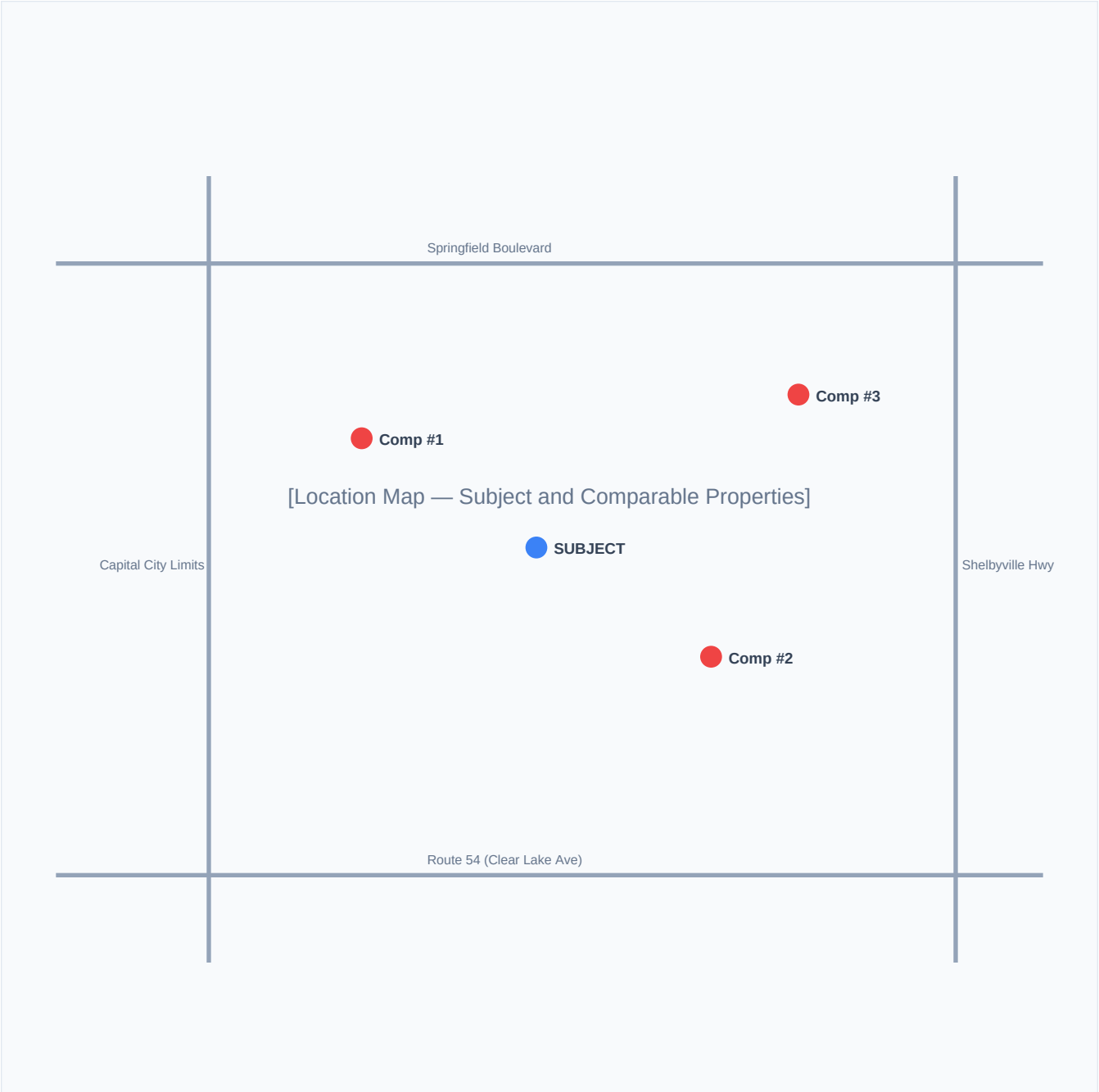

13. PLAT MAP AND FLOOR PLAN SKETCH

Subdivision Plat — Evergreen Terrace, Unit 2, Block 7

EVERGREEN TERRACE

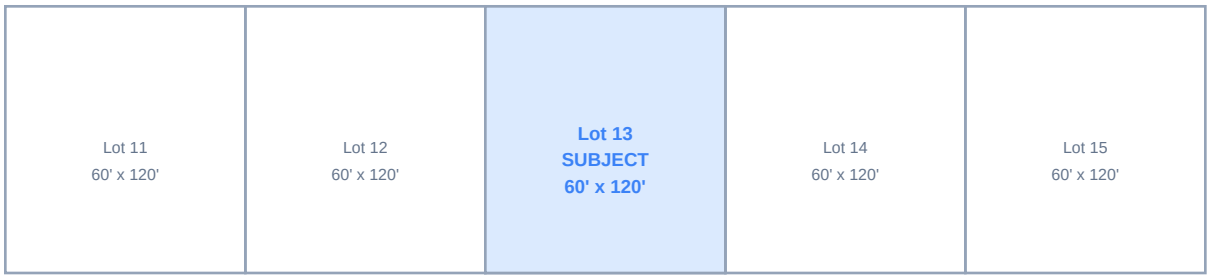

10' Utility Easement

Floor Plan Sketch — Main Level (Not to Scale)

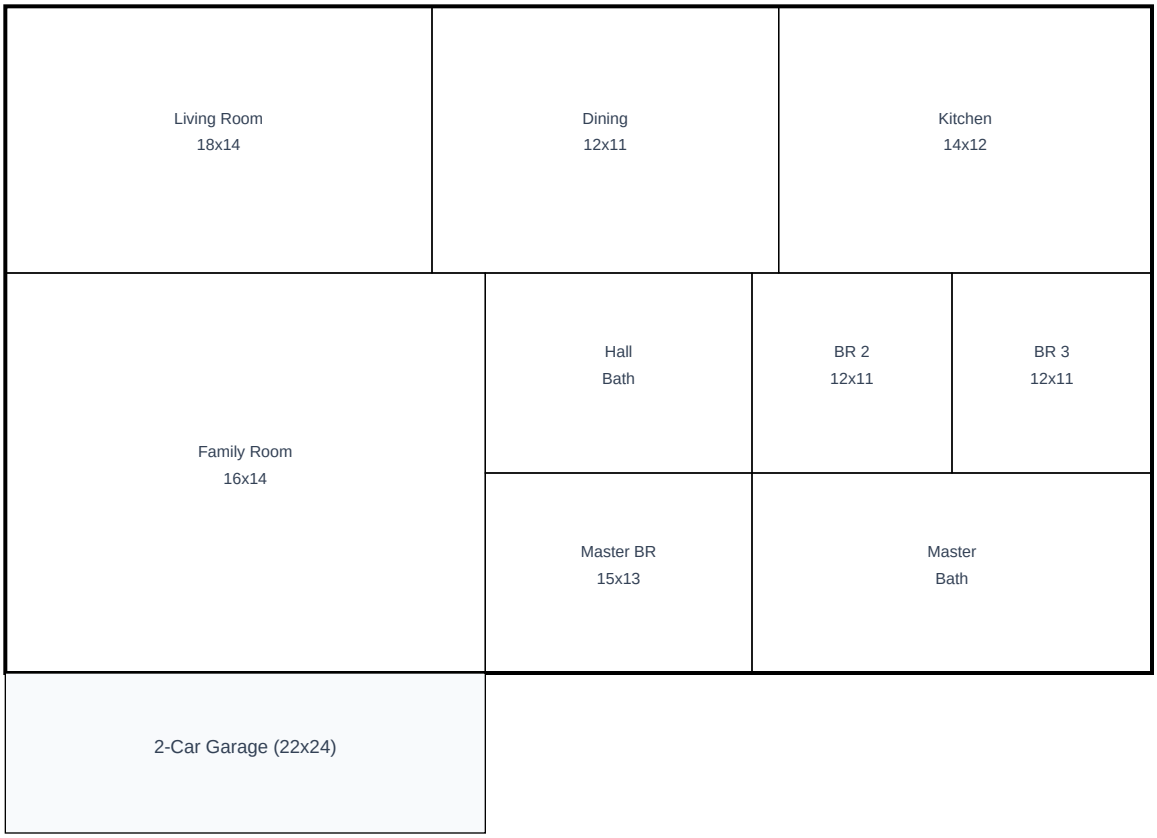

14. MARKET DATA AND STATISTICS

Comparable Sales Location and Details

The following table provides a comprehensive comparison of the subject property and all comparable sales used in the Sales Comparison Approach, including data points not shown on the adjustment grid:

Feature	Comp #1	Comp #2	Comp #3
Address	118 Oak Ave	2204 Maple Dr	509 Birch Ln
Proximity	0.31 mi NW	0.45 mi SE	0.62 mi NE
Sale Price	$268,500	$292,000	$278,000
Sale Date	02/12/2025	01/28/2025	11/15/2024
Days on Market	32	28	41
Financing	Conventional	FHA	Conventional
Concessions	None	None	None
Data Source	MLS #24-1847	MLS #24-2103	MLS #24-1592
Year Built	1986	1988	1980
Design	Ranch	Ranch	Split-Level
GLA (sf)	2,200	2,400	2,100
Price/SF GLA	$122.05	$121.67	$132.38
Rooms/Bed/Bath	7/3/1.5	9/4/2.0	7/3/1.5
Basement	Full 900sf	Full 1,100sf	Partial 600sf
Bsmt Finish %	55%	60%	0%
Garage	1-car att.	2-car att.	2-car att.
Lot Size	6,600 sf	7,800 sf	6,900 sf
Condition	Good (C3)	Good (C3)	Avg (C4)
Ext. Walls	Vinyl	Vinyl	Vinyl
Roof	Asphalt 2019	Asphalt 2020	Asphalt 2018
Heat/Cool	FWA/CAC	FWA/CAC	FWA/CAC
Fireplace	No	Yes (1)	No
Pool	No	No	No

Active Listings Analysis

The following active listings in the subject neighborhood provide additional context for the market value conclusion. Active listings represent the upper boundary of value, as they have not yet attracted a buyer at their listed price:

Address	List Price	GLA	Br/Ba	DOM
1820 Walnut Court	$298,000	2,500 sf	4/2.0	22 days
405 Birch Lane	$275,000	2,100 sf	3/2.0	38 days
919 Cedar Drive	$315,000	2,650 sf	4/2.5	15 days
2100 Oak Avenue	$289,900	2,350 sf	4/2.0	41 days

The active listings range from $275,000 to $315,000, with an average of $294,475. The subject's appraised value of $285,000 is well-positioned within this range, consistent with the relationship between closed sale prices and active listing prices in this market (list-to-sale ratio of 98.2%).

Price Per Square Foot Analysis

An analysis of price per square foot of gross living area (GLA) for recent sales in the subject neighborhood provides additional support for the value conclusion:

Subject (Contract):	$116.33/sf (2,450 sf × $116.33 = $285,000)
Comp #1:	$122.05/sf
Comp #2:	$121.67/sf
Comp #3:	$132.38/sf
Neighborhood Median (12 mo):	$118.50/sf
Neighborhood Range:	$105.00 — $145.00/sf

The subject's price per square foot of $116.33 is slightly below the neighborhood median of $118.50, which is consistent with the property's effective age and positions the appraised value conservatively within market norms.

15. SCOPE OF WORK

Purpose and Intended Use

The purpose of this appraisal is to estimate the market value of the fee simple interest in the subject property as of March 10, 2025. Market value is defined as the most probable price which a property should bring in a competitive and open market under all conditions requisite to a fair sale, the buyer and seller each acting prudently and knowledgeably, and assuming the price is not affected by undue stimulus.

The intended use of this appraisal is for mortgage lending purposes in connection with a purchase transaction. The intended users are First National Bank of Springfield and its successors and assigns. No other use or users are intended or authorized.

Scope of Work Performed

- Physical inspection of the subject property interior and exterior on March 10, 2025
- Measurement and verification of gross living area, room count, and site dimensions
- Inspection of the exterior of all comparable sales from the street
- Research and analysis of comparable sales data from Central Illinois MLS and public records
- Verification of all comparable sales through public records (deeds, assessor data)
- Analysis of the subject neighborhood, including boundaries, land use, and market trends
- Development of the Sales Comparison Approach with three comparable sales
- Development of the Cost Approach with site valuation and depreciation analysis
- Reconciliation of value indications to a final opinion of market value
- Preparation of this written appraisal report in compliance with USPAP Standards 1 and 2

Data Sources

- Central Illinois Multiple Listing Service (MLS) — comparable sales data, market statistics
- Sangamon County Assessor's Office — property records, tax data, ownership history
- Sangamon County Recorder of Deeds — deed transfers, legal descriptions, easements
- FEMA Flood Map Service Center — flood zone determination
- Illinois DFPR — appraiser license verification
- Physical inspection and measurement of subject property by the appraiser
- Interview with borrower/homeowner regarding property history, improvements, and conditions
- Marshall & Swift Residential Cost Handbook — replacement cost estimates

16. ASSUMPTIONS AND LIMITING CONDITIONS

1. The appraiser assumes no responsibility for matters of a legal nature affecting the property, including but not limited to title, encumbrances, liens, or easements not disclosed to the appraiser.
2. The appraiser has examined available flood maps and has noted in this report whether the subject property is located in an identified Special Flood Hazard Area. The appraiser is not a surveyor and makes no guarantees regarding flood zone determination.
3. The appraiser assumes that there are no hidden or unapparent conditions of the property, subsoil, or structures that would render it more or less valuable. The appraiser assumes no responsibility for such conditions or for engineering which might be required to discover them.
4. Information, estimates, and opinions contained in this report were obtained from sources considered reliable and believed to be true and correct. However, no responsibility for accuracy of such items can be assumed by the appraiser.
5. The appraiser is not required to give testimony or appear in court because of having made this appraisal unless arrangements have been previously made.
6. The appraiser has noted in this appraisal report any adverse conditions observed during the inspection or that the appraiser became aware of during the research involved in performing this appraisal. Unless otherwise stated, the appraiser has no knowledge of any hidden or unapparent conditions that would make the property more or less valuable.
7. This appraisal report is not an environmental assessment. The appraiser is not qualified to detect the presence of hazardous substances including but not limited to asbestos, urea formaldehyde, radon gas, lead paint, mold, or contaminated soil or groundwater.
8. The appraiser's opinion of value is contingent upon the competency and accuracy of all referenced data sources. Any error in data provided to the appraiser may affect the value conclusion.
9. Possession of this report does not carry with it the right of publication. Neither all nor any part of the contents of this report shall be conveyed to any person or entity, other than the appraiser's or firm's client, without the prior written consent of the appraiser.
10. The value opinion expressed herein is valid only as of the effective date indicated. Changes in market conditions, property condition, or other factors occurring after the effective date may affect the value of the subject property.

17. APPRAISER CERTIFICATION

I certify that, to the best of my knowledge and belief:

1. The statements of fact contained in this report are true and correct.
2. The reported analyses, opinions, and conclusions are limited only by the reported assumptions and limiting conditions, and are my personal, impartial, and unbiased professional analyses, opinions, and conclusions.
3. I have no present or prospective interest in the property that is the subject of this report, and no personal interest with respect to the parties involved.
4. I have performed no services, as an appraiser or in any other capacity, regarding the property that is the subject of this report within the three-year period immediately preceding the agreement to perform this assignment.
5. I have no bias with respect to the property that is the subject of this report or to the parties involved with this assignment.
6. My engagement in this assignment was not contingent upon developing or reporting predetermined results.
7. My compensation for completing this assignment is not contingent upon the development or reporting of a predetermined value or direction in value that favors the cause of the client, the amount of the value opinion, the attainment of a stipulated result, or the occurrence of a subsequent event directly related to the intended use of this appraisal.
8. My analyses, opinions, and conclusions were developed, and this report has been prepared, in conformity with the Uniform Standards of Professional Appraisal Practice (USPAP).
9. I have made a personal inspection of the interior and exterior areas of the subject property and the exterior of all comparable sales cited in this report.
10. No one provided significant real property appraisal assistance to the person signing this certification.

Robert M. Chen, MAI, SRA
Illinois License #553-002184 | Exp: 09/30/2026

March 15, 2025
Date of Signature and Report

18. APPRAISER QUALIFICATIONS

Robert M. Chen, MAI, SRA

Professional Designations

- MAI — Member, Appraisal Institute (Commercial/Residential)
- SRA — Senior Residential Appraiser, Appraisal Institute

Licensing

State:	Illinois
License Number:	553-002184
License Type:	Certified General Real Estate Appraiser
Expiration:	September 30, 2026

Education

- B.S. in Finance — University of Illinois at Urbana-Champaign (2009)
- Appraisal Institute: Advanced Residential Applications (2014)
- Appraisal Institute: General Appraiser Market Analysis and Highest & Best Use (2015)
- Appraisal Institute: General Appraiser Sales Comparison Approach (2013)
- Appraisal Institute: General Appraiser Income Approach (2016)
- Annual USPAP Update Course — Current through 2026

Experience

Over 12 years of full-time appraisal experience in the Central Illinois market, with a focus on single-family residential properties. Completed an average of 200+ residential appraisals annually. Experience includes:

- Single-family residential properties ($100,000 — $1,500,000)
- Multi-family properties (2-4 units)
- Vacant land and subdivision analysis
- REO and foreclosure properties
- Relocation appraisals
- Estate and divorce appraisals
- FHA, VA, USDA, and conventional lending appraisals

Professional Affiliations

- Appraisal Institute — Member since 2015
- Illinois Coalition of Appraisal Professionals — Board Member
- National Association of Realtors — Affiliate Member
- Sangamon County Board of Realtors — Appraiser Affiliate

Contact Information

Firm:	Chen & Associates Appraisal Group
Address:	1200 Professional Drive, Suite 300, Springfield, IL 62704
Phone:	(217) 555-0142
Email:	rchen@chenassociates.com